ICELAND WHARF FISH ISLAND SOUTH

DESIGN & ACCESS ADDENDUM

NOVEMBER 2025

Sanctuary

ICELAND WHARF FISH ISLAND SOUTH

PRP

prp-co.uk

Architecture
Urban Design
Masterplanning
Landscape
Development Consultancy
Research

PRP Job Reference / Document Number

B100174-AD Iceland Wharf/

B100174-AD-PRP-XX-XX-RP-A-06001_P01_S1

Issuing Date / Office

11/14/2025 / London

Rev P01

Author:

Zeke Osho

Project Lead

Zeke Osho

Contents

Introduction 5

Chapter 1 - Project Summary 6

Project Summary 7

Chapter 2 - Design Proposals and Evolution 8

Design Evolution 9
Revised Building Form 10
Revised Building Materiality 11

Chapter 3 - Ground Floor: Layout and Access 13

Revised Ground Floor 14
Revised Employment Space Access and Servicing 15
Revised Parking and Cycle Strategy 16
Revised Waste Management Strategy 17

Chapter 4 - Dwelling Mix and Layout Options 21

Illustrative Separate Kitchen/ Living Room Options 23
Illustrative Separate Kitchen/ Living Room Options 24

Chapter 5 - Architectural Expression and Materiality 25

Residential: Proposed Facing Materials 26
Material: Scope and Distribution 27
Residential: Typical Bay Study 28
Residential: Typical Balcony Study 29
Residential: Elevations 30
Residential: Elevations 31

Introduction

This Design and Access Statement Addendum has been submitted to illustrate the proposed amendments made to the originally submitted development proposal at Iceland Wharf (ref. PA/25/00973/A1), as a result of consultation comments received on the application. It should therefore be read alongside the principles set out within the original Design and Access Statement, in addition to the revised drawings and plans referenced in the submitted drawing schedule. Further commentary on the proposed landscaping, play and amenity space is included in the Landscape Addendum, and assessment of the scheme against the policies of the Development Plan included in the Planning Statement Addendum.

The key changes made in response to these comments are summarized below:

- **Ground Floor: Activation/ Amenity**: Incidental/ 'meanwhile' play has been removed from Iceland Road shared surfaces/access route. Framed signage has been removed and the parking spaces and soft landscaping re-arranged to identify the termination of Iceland Road as a semi-private space. In addition, the introduction of the family homes around the communal amenity space and relocation of the ancillary spaces has improved the relationship between the outdoor play and the adjacent homes.
- **Ground Floor: Uses**: The internal arrangements of Blocks A and B have been re-arranged to create a residential 'cycle hub' directly facing Iceland Road to blend with the adjacent commercial character of the upper section of Iceland Road.
- **Ground Floor: Building Materiality**: Blocks A and B are articulated with coloured tiles and glazed facade units to the cycle stores on Iceland Road frontage and at pedestrian level in reference to the historical Victorian industrial character of the area. The remainder of the facade is primarily comprised of the semi-glazed brickwork with clay brick to the balcony internal faces.
- **Upper Floors: Building Materiality**: The massing/ facade articulation is unchanged. Blocks A and B facades are composed primarily of the semi-glazed brickwork with clay brick to the balcony internal faces.
- **Rooftop: Building Profile/ Silhouette**: The profile of Blocks A and B are articulated with a distinct industrial 'saw tooth' roof line which are typical of the industrial historical buildings on the site. The profile varies from front to the rear of each block, thereby creating an ever changing silhouette as viewed from the surrounding context. This profile also allows for views from the rooftop amenity areas, while shrouding the mechanical plant equipment.
- **Rooftop: Materiality**: Blocks A and B facades are composed primarily of the semi-glazed brickwork with clay brick to the balcony internal faces.

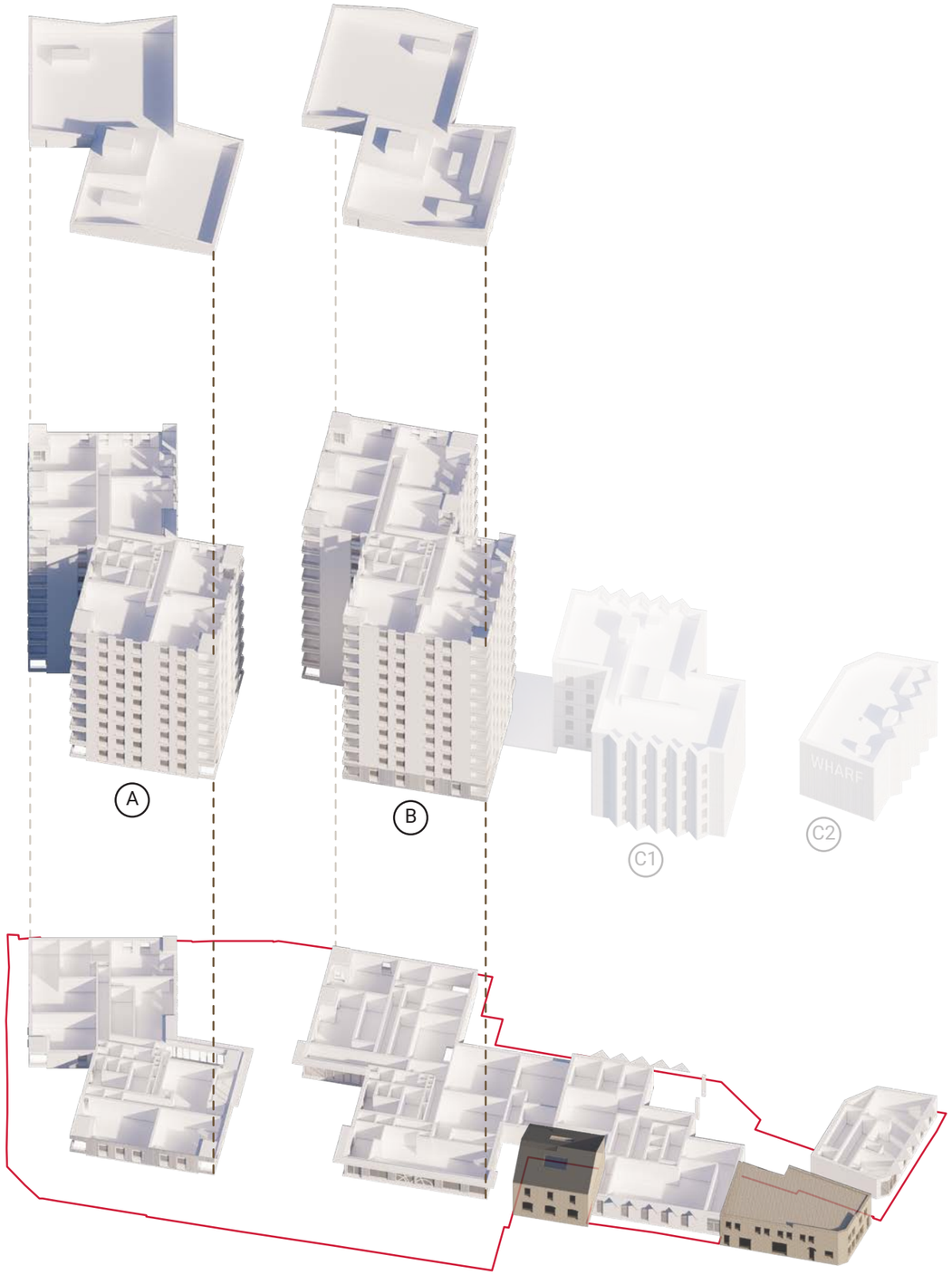

Chapter 1 - Project Summary

Project Summary

The key planning and public benefits (refer to Planning Statement supporting document for full commentary):

- **Delivery of high-quality employment floorspace** - including 4, 172sqm flexible employment floorspace and 10% of affordable workspace.
- **Delivery of New Homes** – 165 new, high-quality homes ranging from 1-bed to 4-bed units to meet an identified need;
- **Significant Delivery of Affordable Homes** – 89 affordable homes, comprising 55% of the total housing proposed;
- **Effective Use of Previously Developed Land,** - through the delivery of new employment space and homes.
- **Creation of New Jobs and Employment Opportunities** – provision of 205 new jobs and £13m direct annual GVA, through delivery of flexible employment space to meet a diverse range of needs.
- **Direct Economic Benefits**, including increased local expenditure, improved vitality and viability of local services and facilities, increased Council Tax receipts.
- **High Quality Design and Landscaping** – delivery of high-quality architecture and landscaped public realm, including improvements to site permeability and dedicated amenity space.
- **Enhanced Biodiversity and Greening** – Delivery of Biodiversity Net Gain
- **Showcasing the Site's Heritage Character** – enhancement of non-designated heritage asset, and architectural features that celebrate the area's industrial heritage.
- **'Excellent' Energy and Sustainability Credentials** - including exceeding energy targets by 7% for residential buildings and 6% for non-domestic, with an overall reduction of regulated CO2 emissions by 71%.
- **Delivery of Low-Carbon Energy Generation** – renewable energy technologies, including PV panels and Air Source Heat Pumps. Carbon emission saving targets of 16% (residential) and 20% (non-residential) is achieved for the proposed development with an overall reduction in the total regulated Site Wide CO2 emissions of the Proposed Development by 72%.
- **CIL Contributions** – contribute to important community projects across the borough.

c. 353 sqm Affordable Workspace

Provision of flexible employment space and new jobs



Improved public realm and amenity with play space

165
HOMES

10 % M4(3)

(45%) Market **(55%)** Affordable

Based on Habitable Rooms

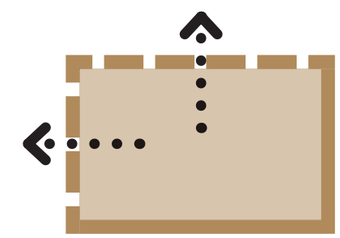

73 % Dual Aspect Homes

307 Internal Cycle Spaces

16 Employment + 291 Residential (Including 5% Accessible Spaces)

Based on GLA London Plan

3 % Disabled Parking Bays

Including 7% future provision to allow for 10% total disabled bays

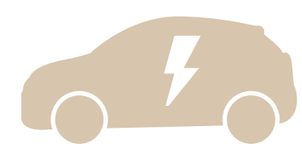

20% EV Charging Spaces

Chapter 2 - Design Proposals and Evolution

Design Evolution

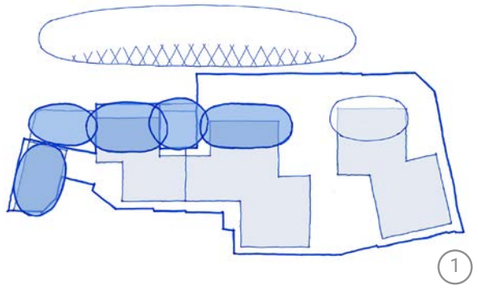

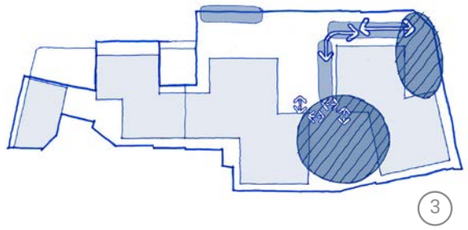

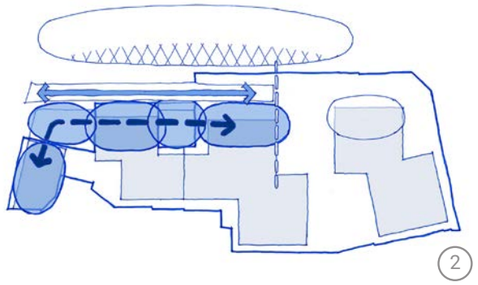

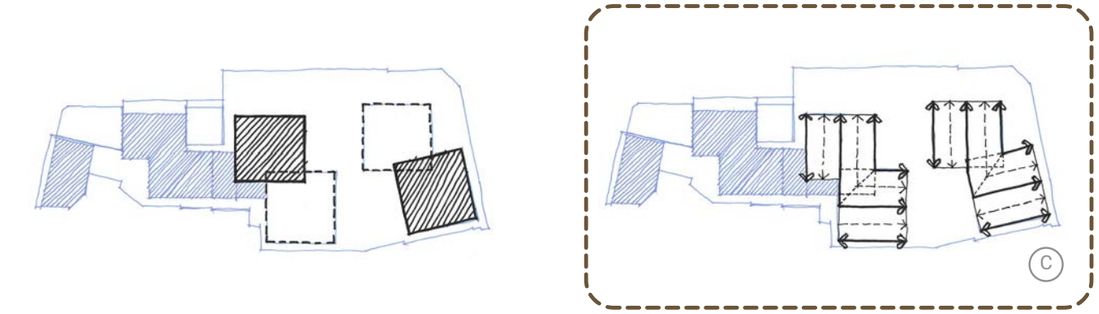

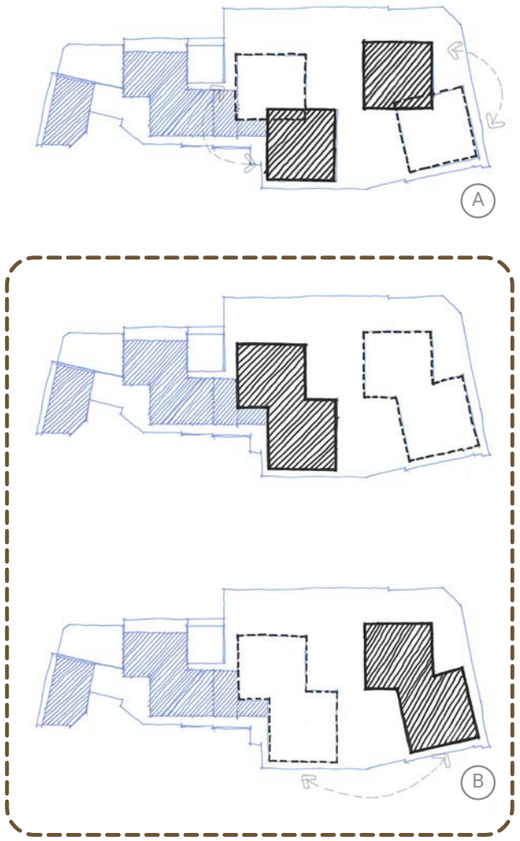

Ground Floor, Identity and Character

The approach for re-establishing Iceland Wharf as a successful street is to define clearly the hierarchy of spaces and uses on entering and moving through the space.

1: The developments primary use of commercial spaces are arranged at the junction Wick Land and Iceland Wharf at the point where there is the greatest footfall and also would be the natural location for commercial uses as is consistent with the existing character and uses along Wick Lane. The secondary use of residential homes is located away from this area to avoid conflict of movement and servicing.

2: This arrangement creates a clear hierarchy of spaces commercial spaces That then blend to between commercial and residential along the length of Iceland Road.

3: The street is then terminated as residential in character through the replacement of the 'meanwhile' play spaces with additional soft planting and the re-alignment of the direct vehicular route - allowing for soft planting to be relocated closer to the residential blocks.

4: The proposal is for a resident's cycle storage with wash/repair space to front Block B - creating a transition in street between commercial and residential uses.

Massing, Materials and Detailing

The approach to materiality acknowledges both the historic warehouse/industrial uses also the architectural language developing in the immediate vicinity that utilises colour and geometric profiles.

A: Options to emphasise either of the interlock elements form each block to articulate and reduce perceived massing.

B: Proposal to articulate each block elemental and which allows for a consistency of approach across all building in the masterplan.

C: Blocks A and B silhouette are accentuated with a 'sawtooth' roof profile in reference to the industrial building from the area. The roof profile is rotated within each of the interlocking elements of the block to create further variation when viewed from surround viewpoints. Plus, allowing for views from the rooftop amenity areas.

Revised Building Form

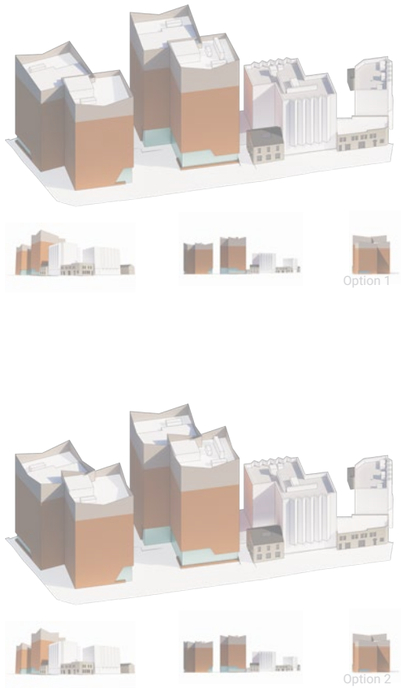

Illustrative saw tooth roof profile options

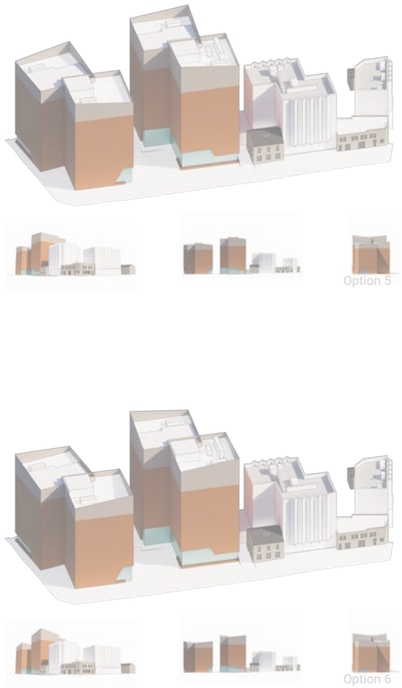

Illustrative mono-pitched roof profile options

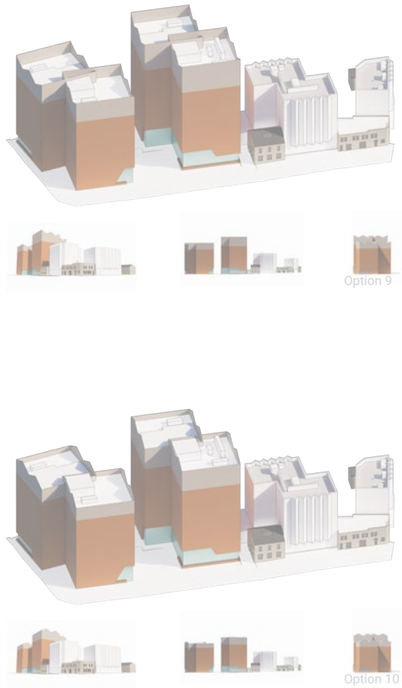

Illustrative pitched roof profile options



Illustrative saw tooth/ mono-pitched roof options

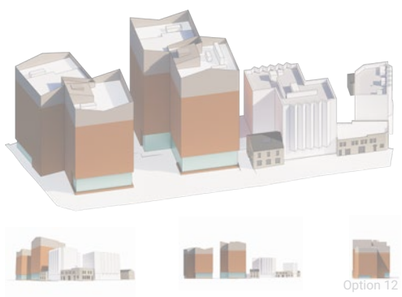

Illustrative mono-pitched roof profile options

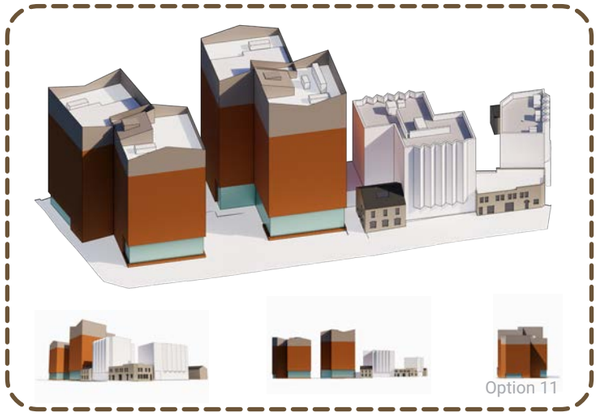

Massing, Materials and Detailing

Further options for the roof profile were reviewed for mono-pitched, lean-to and sawtooth arrangements/ orientation.

The proposed massing was refined to a vertical hierarchy as follows:

Base: Glazed ceramic tiles to ground floor of Block A and to ground and first floors of Block B.

Middle: Semi-glazed brickwork.

Top: Sawtooth parapet wall profile.

Revised Building Materiality

BRICK Facade

BRICK Facade - Upper Detail

CLADDING Facade

CERAMIC Facade

BRICK Facade - Option



BRICK Facade - Fade

CLADDING Facade - Option

Massing, Materials and Detailing

Primary material options for the facades were reviewed for brick, cladding and colour.

The proposal is for a primary material of semi-glazed brickwork. Two colours of complimentary soft tones. The intent is for the two colours to be similar enough while offering enough contrast to break the perception of the two blocks as a singular mass.

Sanctuary

ICELAND WHARF FISH ISLAND SOUTH

PRP

View from Wick Lane / Iceland Road junction